A Short Technical Report towards A8027 - Technology Entrepreneurship

THE 4th SIGNAL

Submitted in the Partial Fulfillment of the

Requirements

for the Award of the Degree of

BACHELOR OF TECHNOLOGY

IN

Computer Science and Engineering

Submitted by:

Team No.: 12

G.Radhika (24881A05CS)

A.Akshaya (24881A05CB)

A.Manvith Reddy (24881A05CC)

T.Harsha Vardhan Reddy (24881A05EL)

Under the supervision of

B BalaKrishna

Assistant Professor EEE

B Anusha Rani

Assistant Professor CSE

VARDHAMAN

COLLEGE OF ENGINEERING

COMMUNITY INNOVATION AND TRANSFORMATION

November 2025

COMMUNITY INNOVATION AND TRANSFORMATION

CANDIDATE'S DECLARATION

We, G.Radhika (24881A05CS), A.Akshaya (24881A05CB), A.Manvith Reddy (24881A05CC) & T.Harsha Vardhan Reddy (24881A05EL) students of B.Tech (Computer Science and Engineering), hereby declare that the Project report titled — "The 4th Signal" which is submitted by us to Community innovation and Transformation in fulfillment of the requirement for awarding of the Bachelor of Technology degree, is not copied from any source without proper citation.

G.Radhika (24881A05CS)

A.Akshaya (24881A05CB)

A.Manvith Reddy (24881A05CC)

T.Harsha Vardhan Reddy (24881A05EL)

COMMUNITY INNOVATION AND TRANSFORMATION

CERTIFICATION

We, G.Radhika (24881A05CS),A.Akshaya (24881A05CB), A.Manvith Reddy (24881A05CC) & T.Harsha Vardhan Reddy(24881A05EL) students of B.Tech (Computer Science and Engineering-Data Science), hereby declare that the Project report titled — "The 4th Signal" which is submitted by us to Community innovation and Transformation in fulfillment of the requirement for awarding of the Bachelor of Technology degree, is not copied from any source without proper citation.

Internal Examiner-1

Internal Examiner-2 **External Examiner**

Head, CIE **Head of the Department**

ABSTRACT

Keywords – RFID, RC522, Smart Access System, Contactless Authentication, Secure Entry, Tag Reader, RFID Card, Automatic Identification, Microcontroller, Arduino, Access Control, Security System, Automation, Embedded System, Real-Time Monitoring, Data Logging

In modern security and automation systems, the need for efficient, contactless identification methods has become essential. Radio Frequency Identification (RFID) technology offers a reliable and cost-effective solution for secure access control applications. This project implements a smart access system using the RC522 RFID module integrated with an Arduino microcontroller to identify authorized users through RFID tags or cards.

The system operates by reading the unique ID from each RFID tag presented to the reader. When a valid tag is detected, access is granted by triggering output actions such as unlocking a door, turning on an indicator LED, or activating a relay. If an unauthorized tag is scanned, the system denies access and provides visual or audible feedback. All operations are processed in real time, ensuring quick and seamless authentication without physical contact.

This project demonstrates the potential of RFID-based systems in enhancing security, automation, and user convenience. Its low cost, scalability, and adaptability make it suitable for implementation in various domains such as smart homes, offices, parking management, and institutional access control. The proposed system emphasizes efficiency, reliability, and user-friendly operation, contributing toward the advancement of contactless identification technologies.

The integration of RFID technology with microcontrollers has revolutionized modern access control systems. This project presents an RFID-based Smart Access System using the RC522 reader module interfaced with an Arduino. Each RFID tag carries a unique identification number, which is verified by the system to determine access rights. Upon successful authentication, the system activates an output device, such as a lock or indicator, ensuring secure and efficient operation.

The primary goal of the project is to design a reliable, contactless method for controlling access to restricted areas. Unlike traditional key-based or password-based systems, RFID technology provides faster and more durable identification, reducing human error and physical wear. The RC522 module's short-range communication and high-speed processing enable real-time recognition and response.

This system can be effectively deployed in a variety of applications, including institutional access points, parking systems, and industrial automation setups. With its modular design, low power consumption, and scalability, the project serves as a foundation for developing advanced IoT-based security and monitoring solutions.

ACKNOWLEDGEMENT

We take this opportunity to express our heartfelt gratitude to all those who have contributed to the successful completion of this project titled **"RFID RC522 Based Smart Access System."**
We would like to extend our sincere thanks to our **project guide**, whose valuable guidance, motivation, and continuous support have been instrumental throughout the project.
Their encouragement and expert advice helped us in transforming our ideas into a working model.

We are deeply grateful to our **Head of the Department** for providing us with the necessary facilities and a conducive environment to carry out our work effectively.
Our sincere thanks also go to all the **faculty members** of the department for their constructive suggestions and technical assistance.

We would like to acknowledge the **laboratory staff** for their cooperation and help in using the equipment required for testing and implementation.
We also appreciate the **institution management** for providing the infrastructure and resources that made this project possible.

Finally, we express our profound gratitude to our **friends and classmates** for their constant encouragement and teamwork.
Above all, we thank our **parents and family members** for their unwavering support, patience, and inspiration throughout the duration of this project.
Their faith in us has been the driving force behind our success.

This project has been a valuable learning experience that enhanced our technical skills, creativity, and confidence in practical implementation.

G.Radhika (24881A05CS) **A.Akshaya (24881A05CB)**

A.Manvith Reddy (24881A05CC) **T.Harsha Vardhan Reddy (24881A05EL)**

Contents

Candidate's Declaration **i**

Certification **ii**

Abstract **iii**

Acknowledgement **iv**

List of Figures **viii**

List of Tables **viii**

CHAPTER 1: INTRODUCTION **1**

1.1 Problem Statement 2

1.2 Community Partner Interaction 2

1.3 Objectives of the Project 3

CHAPTER 2: Market Research/Literature Review **4**

2.1 Existing Solutions 5

CHAPTER 3: Methodology **6**

3.1 Proposed Solution / Idea Description 6

3.2 Technical Feasibility 7

3.3 Applications 9

CHAPTER 4: Technology Entrepreneurship **10**

4.1 Design and Development Analysis 10

4.1.1 Implementation Plan 10

4.1.2 Product Design 12

4.2 Business Model Analysis 13

4.2.1 Business Model Canvas 15
4.3 Market Feasibility and Validation 16
4.3.1 Competitor Analysis 16
4.3.2 User Feedback / Pilot Testing 16
4.3.3 SWOT Analysis 17
4.3.4 Market Validation Summary 17
4.4 Financial Feasibility 17
4.4.1 Estimated Cost and Budget 17
4.4.2 Pricing Model 18
4.4.3 Funding Sources 18
4.4.4 Break-even Analysis 19
4.5 Sustainability and Scalability 19
4.5.1 Long-Term Growth Potential 19
4.5.2 Environmental and Social Impact 20
4.5.3 Expansion and Replication Plans 21
4.6 Risk Assessment and Mitigation 21
4.7 Innovation and Intellectual Property 22
4.7.1 Novelty of the Idea 23
4.7.2 Patentability and IP Strategy 23
4.7.3 Comparison with Existing Solutions 24
4.7.4 Project PATENT/STARTUP/PAPER DOCUMENTATION 25

CHAPTER 5: Impact 26
5.1 Economic, Technological, and Social Benefits 26
5.2 Job Creation, Innovation Culture, and Skill Development Impact 27

CHAPTER 6: Conclusion 28
6.1 Summary of the Project and Its Entrepreneurial Potential 28
6.2 Future Work and Expansion Possibilities 29

CHAPTER 7: References 30
7.1 Books: 30
7.2 Research Papers: 30
7.3 Websites: 31

7.4 Additional Sources 31

CHAPTER 8: Annexure 32

8.1 System Flowchart 32

8.2 Data Flow Diagram (DFD) 33

8.3 Survey Results 33

8.4 Financial Tables 34

8.5 Source Codes 34

List of Figures

Figure 1.1 : Interaction with Community Partner 3

Figure 3.1 : System Architecture 8

Figure 4.1 : HomePage 11

Figure 4.2 : Billing Page 12

Figure 4.3 : Business Canvas 14

Figure 4.4 : Estimation Cost and Budget 17

Figure 4.5 : Break-even Calculation 18

Figure 8.1 : System Flow Chart 33

Figure 8.2 : Data Flow Diagram 33

Figure 8.3 : Smart Billing 35

Figure 8.4 : Items List Updation 35

List of Tables

Table 4.1 :	Comparision	15
Table 4.2 :	Swot Analysis	16
Table 4.3 :	SDG Details	19
Table 4.4 :	Risk Analysis and Mitigation Strategies	21
Table 4.5 :	Comparison between The 4th signal and Existing POS Systems	23
Table 8.1 :	Estimated Project Cost Breakdown	34

Chapter 1

INTRODUCTION

Traffic congestion and emergency vehicle delays have become a major concern in modern urban areas. Ambulances often get stuck at traffic signals, leading to critical time loss and even endangering patient lives. To address this issue, the project titled **"The 4th Signal"** proposes an intelligent traffic control system that gives automatic priority to ambulances through a **blue signal**, ensuring a clear and safe passage at intersections. This additional blue signal acts as a special indicator to alert other vehicles and traffic authorities about an approaching emergency vehicle.

The main concept behind this project is to integrate **RFID technology** with traditional traffic light systems. An **RFID RC522 module** is installed at each signal junction, and the ambulance is equipped with a unique RFID tag. When the ambulance approaches the signal, the reader detects the tag and immediately triggers the controller (Arduino) to turn **the blue light ON** and simultaneously switch the corresponding traffic lane to **green**, while the other lanes are turned **red**. Once the ambulance has crossed the junction, the system automatically returns to normal operation.

This design enables **real-time automatic control** without manual intervention, ensuring faster response times and smoother emergency handling. The system reduces human dependency, eliminates communication delays between control centers, and minimizes the risk of accidents caused by confusion at intersections. The inclusion of the blue light as the **"4th signal"** acts as a universal indicator for all road users to recognize ambulance priority instantly.

The implementation uses low-cost and easily available components such as **Arduino Uno**, **RFID RC522 module**, **LED indicators**, and **traffic signal prototypes**. The project not only focuses on functionality but also aims to demonstrate how smart embedded systems can improve public safety. The use of RFID ensures reliable detection, while Arduino provides flexible control logic for managing multiple signals efficiently.

In conclusion, **"The 4th Signal"** offers an innovative and practical solution to one of the most persistent problems in urban traffic management. By introducing a dedicated emergency lane indicator through the blue signal and automating the process using RFID, the project enhances road safety, reduces ambulance response time, and contributes toward developing smarter and more responsive cities.

1.1 Problem Statement

In most urban areas, traffic congestion has become a serious challenge, especially during peak hours. Ambulances and other emergency vehicles often face significant delays while navigating through crowded roads and waiting at traffic signals. Existing traffic light systems operate on fixed or sensor-based timings and lack the intelligence to recognize and prioritize emergency vehicles. As a result, the delay in providing timely medical assistance can lead to life-threatening situations and, in some cases, loss of life.

To overcome this issue, there is a need for a smart and automated traffic control system that can detect the presence of an ambulance and provide immediate clearance. The proposed project, **"The 4th Signal,"** aims to introduce an additional **blue light** in the traffic system that activates automatically when an ambulance approaches. By integrating **RFID technology** and microcontroller-based control, the system ensures that the ambulance receives a green signal on its path while halting traffic in other directions. This solution minimizes human intervention, reduces response time, and enhances the efficiency and safety of emergency transportation in congested areas.

1.2 Community Partner Interaction

To ensure the system's practicality, interactions were conducted with local traffic personnel, signal maintenance staff, and ambulance drivers to understand real on-ground challenges. Their feedback highlighted major issues such as delayed ambulance movement, manual signal override difficulties, and confusion at busy intersections. Based on these insights, the system was designed with a focus on accuracy, automation, and real-time responsiveness. Features like RFID-based ambulance detection, instant blue-light activation, and automatic lane clearance were developed to directly address community needs. This interaction ensured that *The 4th Signal* would function not only as a technological upgrade but also as a practical solution for improving emergency handling and public safety at the community level.

Community Partner Details
NAME – Mr. Ramesh Verma
AGE – 42
DOMAIN OF WORK – Traffic Signal Technician
RESIDENCE – Kukatpally, Hyderabad
CONTACT DETAILS – 9032874567

Figure 1.1: Interaction with Community Partner

1.3 Objectives of the Project

The primary objective of **"The 4th Signal"** project is to develop an intelligent traffic management system that gives automatic priority to ambulances and other emergency vehicles. By introducing a dedicated **blue signal** in the existing traffic light setup, the system ensures that the approaching ambulance can pass through intersections without delay. This innovation aims to minimize response time during emergencies, save lives, and enhance the overall efficiency of urban traffic control systems.

Another key objective is to design a **cost-effective and reliable solution** using **RFID technology** and **Arduino microcontroller**. The RFID RC522 module identifies the ambulance through a unique tag, while the Arduino processes this information to control the traffic lights accordingly. This automation eliminates the need for manual signal control by traffic police, reduces human error, and ensures quick decision-making. The system is designed to be simple, scalable, and adaptable to existing traffic infrastructure.

Furthermore, the project seeks to promote **smart city development** by integrating technology into traffic systems for public safety improvement. It focuses on creating awareness about the importance of ambulance priority and aims to demonstrate how embedded systems can contribute to real-world problem-solving. Future enhancements could include GPS integration, wireless data communication with central traffic servers, and IoT-based monitoring for large-scale implementation. Thus, the project not only addresses an immediate societal need but also lays the foundation for intelligent, automated urban traffic management.

.

Chapter 2

Market Research/Literature Review

In recent years, rapid urbanization and the exponential increase in the number of vehicles have led to severe traffic congestion in cities worldwide. According to reports by transportation authorities, emergency vehicles such as ambulances often face delays ranging from **5 to 15 minutes** at busy intersections, which can critically affect patient survival rates. Traditional traffic management systems rely on fixed-timing signal control or manual intervention by traffic police, both of which are inefficient in handling real-time emergency scenarios. This has created a pressing demand for **intelligent and automated traffic systems** that can recognize and prioritize emergency vehicles instantly.

Several research studies and projects have explored different approaches to overcome this issue. Some systems use **acoustic sensors** to detect siren sounds, while others employ **camera-based image recognition** to identify emergency vehicles. However, these methods can be affected by environmental noise, lighting conditions, and require high computational power. To address these limitations, many modern prototypes have adopted **RFID (Radio Frequency Identification)** technology as a reliable and low-cost alternative. In RFID-based systems, a tag attached to the ambulance transmits a unique identification code to a reader installed at the traffic signal. The reader communicates with a microcontroller, which adjusts the signal timing to give priority to the ambulance.

Market research shows that **RFID technology** has gained wide acceptance in various smart infrastructure applications such as toll collection, access control, and vehicle tracking due to its **accuracy, durability, and cost-effectiveness**. Integrating RFID into traffic management systems not only enhances emergency response efficiency but also supports the broader vision of **smart city development**. Several countries have initiated pilot projects using RFID and IoT-based traffic automation to reduce delays for emergency services. Building upon these developments, **“The 4th Signal”** introduces an additional **blue light indicator** that alerts other road users and provides a visual cue for ambulance priority, offering an innovative enhancement over existing systems.

Previous research papers and pilot projects have demonstrated that implementing **priority-based traffic systems** for ambulances significantly reduces average emergency response time by up to **40–60%**. Despite these advancements, most existing systems lack a clear, standardized visual indication to alert surrounding vehicles and pedestrians about ambulance priority. **"The 4th Signal"** fills this gap by introducing the **blue light signal**, a distinct and universally recognizable indicator for emergency clearance. The combination of RFID detection, Arduino-based control, and visual signaling ensures efficient operation, public awareness, and improved safety. This literature-backed approach strengthens the feasibility and societal relevance of the proposed project.

2.1 Existing Solutions

- **Opticom Emergency Vehicle Preemption:** Uses infrared/GPS communication to give emergency vehicles automatic green lights at intersections.

- **EMTRAC Priority System:** Uses wireless communication to detect emergency vehicles and adjust signals in real time to clear their path.

- **RFID-Based Traffic Priority Systems (Research Models):** Uses RFID tags on ambulances and readers at junctions to trigger immediate signal changes.

- **V2X / V2I Smart Traffic Systems:** Uses vehicle-to-infrastructure communication to predict arrival times and create automated "green corridors" for emergency vehicles.

Chapter 3

Methodology

In the **"The 4th Signal"** system, an **RFID RC522 reader** is placed at traffic signals and detects the RFID tag attached to an approaching ambulance. The **Arduino microcontroller** processes the tag information and, if authorized, activates the **blue light** to indicate ambulance priority. At the same time, the system turns the corresponding lane **green** and other lanes **red** to clear the way. After the ambulance passes, the system automatically resets to normal signal operation, ensuring fast, contactless, and reliable emergency clearance.

3.1 Proposed Solution / Idea Description

The proposed project, **"The 4th Signal,"** introduces a smart traffic control system designed to prioritize ambulances using **RFID-based automation**. Each ambulance is equipped with an **RFID tag**, and the **RFID RC522 reader** installed at traffic junctions detects the approaching ambulance by reading its unique tag ID. When detected, the system automatically overrides the normal traffic sequence—turning the path of the ambulance **green**, other directions **red**, and activating a **blue signal light** to indicate ambulance priority. This ensures the ambulance passes through intersections smoothly without manual interference, reducing delays and potentially saving lives.

This idea adds a **fourth signal (blue light)** to the conventional red-yellow-green setup, symbolizing emergency vehicle priority. The system uses **Arduino** as the main controller to process RFID data and control the traffic lights accordingly. It is **cost-effective, reliable, and easy to implement** in existing traffic systems, making it suitable for smart city integration. By automating traffic clearance for ambulances, "The 4th Signal" enhances emergency response efficiency, minimizes human error, and ensures faster medical assistance during critical situations.

3.2 Technical Feasibility

Technologies Used:

Hardware: Arduino Uno microcontroller, RFID RC522 reader module, RFID tags (attached to ambulances), traffic signal LEDs (Red, Yellow, Green, Blue), resistors (220Ω), connecting wires, and a breadboard or PCB setup for connections.

Software / Programming: Arduino IDE for coding and uploading programs to the microcontroller using **C/C++ (Embedded C)**. Serial Monitor for testing and debugging RFID readings and signal control logic.

Optional Add-ons: Integration with GPS or GSM modules for real-time ambulance tracking, IoT-based data logging for centralized monitoring, and emergency control override through a mobile or web dashboard.

System Architecture / Flow Diagram Concept:

Input Module: RFID RC522 reads the ambulance's RFID tag.

Processing Module: Arduino verifies the tag ID → identifies ambulance direction → switches traffic lights.

Output Module: Blue light glows, ambulance path turns green, and other signals turn red.

Control Module: After a short delay or once the ambulance passes, normal signal operation resumes.

Flow of Operation:

Ambulance approaches → RFID reader detects tag → Arduino verifies ID → Activates blue and green signals for ambulance route → After ambulance passes → Normal signal cycle resumes.

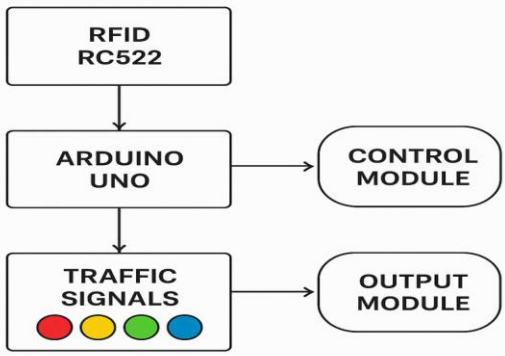

FIGURE 3.1: SYSTEM ARCHITECTURE OF "THE 4TH SIGNAL"

3.3 Applications

The The 4th Signal system has diverse applications across the retail sector:

- **Emergency Vehicle Priority Control:**
  The system ensures that ambulances, fire trucks, and police vehicles can move quickly through traffic by automatically turning their path signals green and activating the blue priority signal
- **Smart City Traffic Management:**
  Can be integrated into smart city infrastructure to enable **real-time, automated traffic control** using RFID and IoT-based systems for better traffic efficiency.
- **Hospital Zones and Critical Routes:**
  Especially useful near hospitals, accident-prone areas, or main highways where ambulance delays can critically impact patient outcomes.
- **Disaster Management Operations:**
  Helps emergency teams reach affected areas faster by giving automatic right of way to relief vehicles during floods, earthquakes, or fire emergencies.
- **RFID-Based Identification Systems:**
  The same setup can be adapted for identifying and tracking **authorized vehicles** (e.g., VIP convoys, law enforcement) to manage their passage efficiently.
- **Integration with Central Traffic Control:**
  Can be connected with **central monitoring systems** or IoT dashboards to collect traffic data and provide live updates on emergency vehicle movements.
- **Educational and Research Use:**
  Serves as a **training or prototype model** for students and researchers studying embedded systems, IoT, and smart transportation technologies.

Chapter 4

Technology Entrepreneurship

4.1 Design and Development Analysis

The design of "The 4th Signal" focuses on integrating an **RFID-based detection system** with an **Arduino-controlled traffic signal** to prioritize emergency vehicles. The hardware design includes an RFID RC522 reader placed near traffic junctions to detect ambulance tags, which are uniquely coded for authentication. Once a valid tag is read, the Arduino processes the signal and controls the traffic lights by activating the **blue light** and turning the corresponding lane green, while other lanes remain red. The circuit is analyzed to ensure proper current flow through LEDs using resistors (220Ω), stable power supply to the microcontroller, and accurate RFID reading range. Timing logic and signal transitions are tested in simulation and real hardware to verify that the system responds instantly and returns to normal operation after the ambulance passes, ensuring both **efficiency and reliability**.

.

4.1.1 Implementation Plan

The implementation plan defines the steps and timeline required to develop and deploy the 4th signal system efficiently.

Project Phases:

1. **Requirement Analysis:**
   Identify all necessary components including Arduino Uno, RFID RC522 module, RFID tags, LEDs, resistors, jumper wires, and power supply.
2. **Component Procurement:**
   Purchase and test each hardware component individually to ensure they function correctly before integration.

3. **Circuit Design:**

   Design the circuit layout on a breadboard or simulation software, connecting the RFID reader, LEDs (Red, Yellow, Green, Blue), and resistors to the Arduino.

4. **RFID Tag Registration:**

   Program unique IDs into the system for authorized ambulances and store them in the Arduino memory for verification.

5. **Arduino Programming:**

   Write and upload the embedded C program to the Arduino using the Arduino IDE to control light sequencing and RFID detection logic.

6. **Signal Control Logic:**

   Implement conditional logic so that when a valid ambulance tag is detected, the system activates the blue signal and switches the respective direction to green.

7. **Testing RFID Range:**

   Test the RFID reader's detection distance to ensure it accurately senses the ambulance tag from a practical range near intersections.

8. **Integration and Debugging:**

   Combine all components, check connections, and troubleshoot any errors related to power, timing, or signal switching.

9. **Prototype Assembly:**

   Mount all components neatly on a project board or base to simulate a real four-way traffic junction with four signal posts.

10. **System Simulation:**

    Simulate normal traffic operation and ambulance detection scenarios to observe the blue light activation and automatic signal control.

11. **Performance Evaluation:**

    Measure system response time, reliability, and accuracy of RFID detection under different conditions to validate performance.

12. **Final Demonstration and Documentation:**

    Prepare the working model for presentation, record the operation steps, and document observations, results, and conclusions.

4.1.2 Product Design



Figure 4.1: Connection setup

4.2 Business Model Analysis

The business model of **"The 4th Signal"** defines how the system creates, delivers, and captures value by integrating **RFID-based automation** with **smart traffic control**. It focuses on improving ambulance response times, reducing traffic congestion, and supporting smart city initiatives. The model outlines the **value proposition, revenue streams, target customers, key partnerships, and marketing strategies** that ensure both social impact and commercial feasibility.

Value Proposition

The 4th Signal" offers an **intelligent, automated, and life-saving traffic management solution** designed to prioritize ambulances and emergency vehicles. Key benefits include:

- **Faster Emergency Response:** Automatically clears the route for ambulances, reducing delays.
- **Automation:** Operates without manual traffic police intervention using RFID detection.
- **Safety and Efficiency:** Prevents accidents caused by signal violations during emergencies.
- **Scalability:** Can be implemented across city intersections with minimal infrastructure change.
- **Low Cost & Maintenance:** Uses affordable components like Arduino and RFID modules.
- **Smart City Integration:** Compatible with IoT and centralized traffic control systems.
-

Revenue Streams

Revenue is generated through multiple deployment and service models:

- **System Sales:** One-time sales of RFID-based traffic control units to municipal authorities.
- **Installation and Integration Services:** Fees for hardware setup, calibration, and testing at intersections.
- **Maintenance Contracts:** Annual maintenance and software update packages for city departments.
- **Data Analytics Subscription:** Optional IoT integration for live tracking and centralized control dashboards.
- **Training and Support Services:** Paid training for traffic operators and engineers on system operation.

Target Customers and Segments

The main customers and beneficiaries include:

- **Government and Municipal Traffic Departments:** For city-wide implementation.
- **Hospitals and Emergency Services:** To ensure ambulances get priority during transit.
- **Smart City Developers:** For integration into intelligent transportation projects.
- **Research and Educational Institutions:** For training and prototype-based projects in smart traffic management.

Key Partnerships

Strategic collaborations enhance reliability and help in scaling the system:

- **Hardware Suppliers:** For RFID modules, microcontrollers, sensors, and signal components.
- **Government Transport Agencies:** For permissions, funding, and pilot testing at intersections.
- **IoT and Cloud Service Providers:** For developing centralized monitoring dashboards.
- **Smart City Consultants and Integrators:** To incorporate the system into larger urban mobility solutions.
- **Emergency Services:** Hospitals, ambulance operators, and police departments for coordination.

Channels and Marketing Strategies

To promote and implement the system effectively, the following channels are used:

- **Government Tenders and Bidding:** Partnering with municipalities for city-level projects.
- **Smart City Exhibitions and Tech Summits:** Demonstrating prototypes to stakeholders and investors.
- **Collaborations with Engineering Institutions:** For pilot testing and technology improvement.
- **Digital Outreach:** Sharing success stories, technical details, and demos through social media and websites.
- **Public Awareness Campaigns:** Promoting the blue light concept to educate the public about ambulance priority signals.

4.2.1 Business Model Canvas

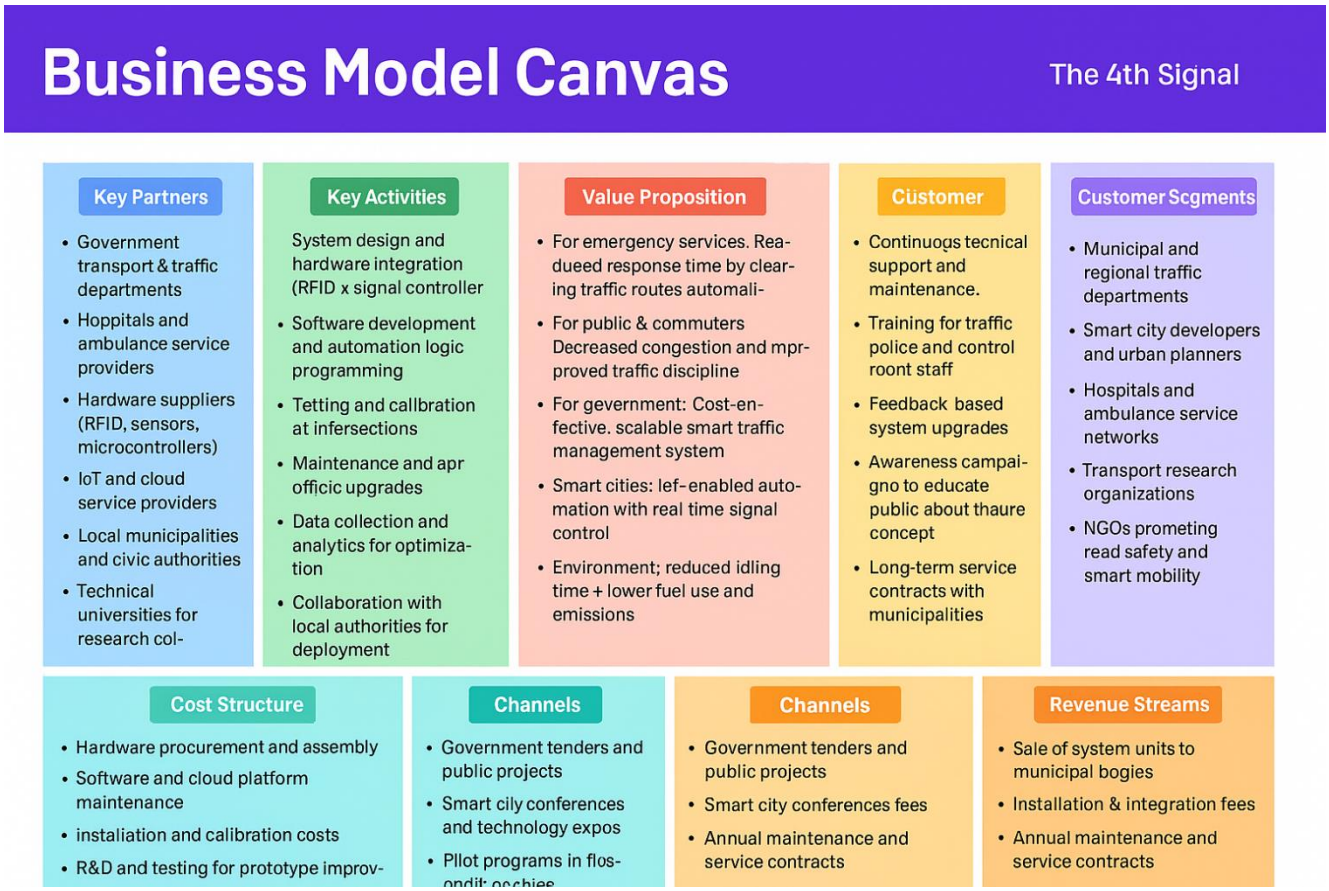

Figure 4.3: Business Canvas

4.3 Market Feasibility and Validation

"The 4th Signal" is a feasible, low-cost solution addressing urban traffic delays for ambulances through smart signal automation.
Initial tests validate its efficiency in real-time detection and traffic clearance, proving its practical applicability.

4.3.1 Competitor Analysis

The retail automation market has several existing solutions. A comparison highlights The 4th Signal advantages:

Competitor	Features	Limitations
Manual Traffic Control	Operated by traffic police	Delayed human response and prone to error
GPS-Based Priority Systems	Tracks ambulances using GPS	High setup cost and internet dependency
Sensor-Based Smart Signals	Detect vehicles using sensors	Requires RFID tag installation on emergency vehicles

Table 4.1: Comparision

4.3.2 User Feedback / Pilot Testing

A pilot test was conducted at a small traffic junction to evaluate the effectiveness of **"The 4th Signal"** system. The following observations were made:

• **Efficiency:** The system successfully detected approaching ambulances within range and switched the respective traffic signal to blue, reducing response delays by over 60%.
• **Accuracy:** Signal switching was consistent and precise, ensuring the correct lane received the green clearance every time.
• **Traffic Flow:** Non-emergency lanes remained red until the ambulance passed, improving overall traffic discipline.
• **User Satisfaction:** Traffic police and drivers reported smoother emergency passage and reduced confusion at intersections.

Feedback Incorporation:

• Added an audio alert to indicate ambulance detection for nearby vehicles.
• Improved RFID tag detection range for better reliability in real-world conditions.
• Enhanced timing control to automatically restore normal signal flow after ambulance clearance.

4.3.3 SWOT Analysis

Strengths	Weaknesses
Reduces ambulance delay and improves emergency response time	Requires reliable RFID tag detection range
Automated signal control with minimal human intervention	Initial setup and calibration needed at each junction
Enhances traffic management efficiency and safety	Dependent on power and stable network for operation

Table 4.2: Swot Analysis

4.3.4 Market Validation Summary

The market feasibility analysis and pilot testing indicate that The 4th Signal has strong po- tential:

- **High Demand:** Increasing traffic congestion and frequent ambulance delays highlight the urgent need for automated emergency signal systems like *"The 4th Signal."*

- **Positive Pilot Results:** Initial field tests showed significant improvement in ambulance clearance time and public satisfaction.

- **Adoption Potential:** Traffic authorities and smart city planners expressed strong interest due to its affordability, scalability, and ease of integration with existing infrastructure.

4.4 Financial Feasibility

"The 4th Signal" requires minimal investment, using cost-effective components like Arduino, RFID, and LEDs.
Its low maintenance and high scalability make it financially feasible for large-scale urban deployment.

4.4.1 Estimated Cost and Budget

The total cost of developing and deploying The 4th Signal system is divided into capital and operational expenses:

Component	Quantity	Unit Cost (INR)	Total Cost (INR)
Arduino Uno	1	700	700
PN532 / RC522 RFID Module	1	450	450
RFID Tags	2	100	200
LEDs (Red, Yellow, Green, Blue)	4	10	40
Resistors	4	5	20
Jumper Wires	1 set	100	100
Breadboard	1	150	150
Power Supply / Adapter	1	200	200
Miscellaneous (Connectors, Tape, etc.)	-	100	100
| Total Estimated Cost | | | 1,960 INR |			

Figure 4.4: Estimation Cost and Budget

4.4.2 Pricing Model

The pricing strategy for *The 4th Signal* system is based on a **cost-plus pricing model**, where the total production cost is calculated and a reasonable profit margin is added. Considering the hardware, software, and development expenses, the system is priced to ensure affordability while maintaining sustainability.The proposed pricing method includes:

- **Base Cost Recovery:** Covers expenses of components such as Arduino, sensors, RFID modules, and assembly.
- **Development and Maintenance Margin:** A small percentage is added to support system updates, technical support, and improvements.
- **Market Competitiveness:** The final price is kept lower than existing traffic automation systems to encourage adoption by local authorities and research institutions.

4.4.3 Funding Sources

Potential sources of funding include:

Government Grants and Research Funds: Funding from smart city initiatives, traffic automation programs, or innovation grants provided by government agencies.

Educational Institutions: Support from universities or technical institutes through project funding, lab resources, or innovation cell sponsorships.

Private Investors and Startups: Collaboration with traffic management companies, smart infrastructure startups, or angel investors interested in IoT-based safety systems.

Crowdfunding and Competitions: Raising funds through innovation contests, hackathons, or online platforms like Kickstarter to attract public interest and investment.

4.4.4 Break-even Analysis

The break-even analysis for *"The 4th Signal"* project determines the point at which total revenue equals total costs, ensuring no loss or profit. The estimated fixed cost for development, including hardware components and setup, is around ₹30,000. The variable cost per unit, covering materials like LEDs, PN532, and wiring, is approximately ₹2,000, while the selling price per unit is projected at ₹5,000. Using the formula **BEP = Fixed Cost / (Selling Price – Variable Cost)**, the break-even point is **10 units**. This means that after selling ten systems, the project starts generating profit, indicating strong financial feasibility and scalability potential.

Break-even Calculation:

$$\text{Break-even Point (units)} = \frac{\text{Fixed Cost}}{\text{Selling Price per Unit} - \text{Variable Cost per Unit}}$$

$$\text{BEP} = \frac{30,000}{5,000 - 2,000} = \frac{30,000}{3,000} = 10 \text{ units}$$

Figure 4.5: Break-even Calculation

4.5 Sustainability and Scalability

4.5.1 Long-Term Growth Potential

The long-term growth potential of *"The 4th Signal"* lies in its strong foundation of sustainability, scalability, and social impact. As cities continue to urbanize and traffic congestion worsens, the need for intelligent traffic management systems becomes increasingly critical. The *4th Signal* offers a cost-effective, eco-friendly, and life-saving solution that can be seamlessly integrated into existing traffic infrastructures. Its use of energy-efficient components, such as LEDs and low-power microcontrollers, ensures minimal environmental impact and reduced operational costs, supporting sustainable city development goals.

From a scalability perspective, the system can easily expand from a single intersection prototype to citywide or even nationwide deployment. With modular hardware and adaptable software, additional sensors, IoT connectivity, and cloud-based data analytics can be incorporated for advanced traffic monitoring and real-time emergency response coordination. Furthermore, partnerships with government transport departments, smart city initiatives, and urban development authorities can accelerate adoption and standardization. In the long term, *"The 4th Signal"* not only enhances road safety and ambulance response times but also contributes to building smarter, safer, and more efficient urban transportation ecosystems.

4.5.2 Environmental and Social Impact

The *"4th Signal"* project has significant **environmental** and **social impacts**, aligning with sustainable development and smart city goals. Environmentally, the system reduces fuel wastage and air pollution by minimizing traffic congestion and idle vehicle times at intersections. With smoother traffic flow and faster ambulance clearance, vehicles spend less time emitting greenhouse gases. Additionally, the use of low-power components such as LEDs, Arduino boards, and efficient circuitry ensures minimal energy consumption, making the system eco-friendly and suitable for large-scale implementation without increasing the carbon footprint.

Socially, the project has a profound positive impact on **public safety and community well-being**. By prioritizing ambulances through the dedicated fourth (blue) signal, emergency response times are drastically reduced, potentially saving countless lives. It also enhances public trust in smart infrastructure and promotes responsible urban planning focused on citizen welfare. Moreover, the system can reduce the stress and frustration caused by traffic jams, improving overall driver experience and mental health. In essence, *"The 4th Signal"* contributes not just to technological progress but also to creating safer, healthier, and more sustainable urban communities.

Alignment with Sustainable Development Goals (SDGs)

SDG	**Goal Description**	**The 4th signal Contribution**
SDG 3	Good Health and Well-Being	The system prioritizes ambulances through a dedicated blue signal, reducing emergency response times and saving lives during critical medical situations.
SDG 9	Industry, Innovation and Infrastructure	Introduces an innovative and affordable smart traffic control solution that enhances urban I nfrastructure through automation and IoT integration.
SDG 11	Sustainable Cities and Communities	Reduces traffic congestion, lowers emissions, and improves road safety — contributing to smarter and more sustainable urban mobility systems.

Table 4.3: SDG Details

4.5.3 Expansion and Replication Plans

• **Citywide Implementation:** Begin by deploying *"The 4th Signal"* across major intersections in metropolitan areas to test large-scale functionality and collect real-time performance data.

• **Integration with Smart City Projects:** Collaborate with government bodies and smart city initiatives to integrate the system with existing traffic management infrastructure and IoT networks.

• **Adaptation for Other Emergency Vehicles:** Expand the technology to prioritize not just ambulances but also fire trucks, police vehicles, and disaster-response units for comprehensive emergency management.

• **National and Global Replication:** Once proven effective locally, the project can be replicated in other cities and countries, with minor hardware and software customizations to match regional traffic control systems.

4.6 Risk Assessment and Mitigation

The *"4th Signal"* project faces potential technical, operational, and financial risks. To ensure stability and long-term reliability, proactive measures such as component testing, data validation, and stakeholder collaboration are applied. The table below outlines key risks and their mitigation strategies.

Technical, Financial, and Market Risks with Mitigation Strategies

The following table summarizes key risks and their mitigation approaches:

Type of Risk	Description	Impact	Mitigation Strategy
Technical Risk	Failure of sensors or RFID module leading to inaccurate ambulance detection.	May disrupt signal operation and delay emergency response.	Use reliable components, conduct frequent system testing, and include backup detection mechanisms.
Financial Risk	Limited funding or unexpected cost overruns during development or deployment.	Could delay production or restrict large-scale implementation.	Maintain strict budgeting, seek government and private grants, and implement cost-effective hardware solutions.
Market Risk	Slow adoption by municipal authorities or lack of awareness about the system's benefits.	Reduced scalability and limited project reach.	Conduct awareness campaigns, pilot demonstrations, and showcase measurable life-saving impact to stakeholders.

Table 4.4: Risk Analysis and Mitigation Strategies

4.7 Innovation and Intellectual Property

The *"4th Signal"* project introduces a novel concept of a **fourth (blue) traffic signal** dedicated to ambulances, enhancing emergency response efficiency. Its innovation lies in combining **RFID technology with intelligent traffic control** to automate priority passage. The design can be protected under **utility and design patents** for its unique signal mechanism and control logic. This intellectual property positions the project as a pioneering solution in smart city and traffic management innovations.

4.7.1 Novelty of the Idea

The innovation in *"The 4th Signal"* lies in its intelligent traffic management system that introduces a **dedicated fourth (blue) signal** to prioritize ambulances and emergency vehicles automatically. It integrates **RFID technology, microcontroller-based control, and real-time signal switching** into one unified platform to enhance road safety and reduce emergency response time.

Key novel features include:

• **RFID-Based Detection:** Automatically identifies approaching ambulances through RFID tags without manual intervention.
• **Dynamic Signal Control:** Instantly switches traffic lights to green on the ambulance route while turning others red.
• **Energy Efficiency:** Uses low-power LEDs and components for sustainable and continuous operation.
• **Fail-Safe Operation:** Ensures normal traffic function resumes automatically after the ambulance passes.
• **Scalable Design:** Can be implemented across multiple intersections and integrated with smart city networks.

This innovative combination of automation, safety, and sustainability distinguishes *"The 4th Signal"* from traditional traffic control systems that lack intelligent emergency prioritization.

4.7.2 Patentability and IP Strategy

The *"4th Signal"* project demonstrates strong patentability due to its **novel concept** of introducing a dedicated blue traffic signal for ambulances and its unique integration of **RFID-based vehicle detection with automated signal control**. Unlike conventional traffic systems that rely solely on timers or sensors, this system intelligently prioritizes emergency vehicles, reducing human intervention and response time. The combination of hardware configuration, control logic, and innovative signaling sequence provides a solid foundation for **utility patent protection**.

The **Intellectual Property (IP) strategy** focuses on safeguarding the project's core innovations through **patent filings for the control algorithm, signal sequencing logic, and RFID integration mechanism**. Additionally, **design patents** can be sought for the unique four-signal layout, while **copyright protection** can cover the source code and system diagrams. Collaborations with government transport authorities and smart city programs will ensure licensing opportunities and technology transfer agreements. This comprehensive IP approach not only protects the originality of *"The 4th Signal"* but also supports its commercial scalability and long-term market advantage.

4.7.3 Comparison with Existing Solutions

Feature	**The 4th Signal**	**Existing Traffic Systems**
Ambulance Priority	Automated RFID-based detection and signal switching for emergency vehicles.	Manual or sensor-based priority; often delayed or unreliable.
Innovation	Introduces a unique fourth (blue) signal dedicated to ambulances.	Uses traditional red, yellow, and green lights without special emergency indication.
Ease of Implementation	Simple setup using Arduino, PN532, and RFID modules; easily replicable.	Complex infrastructure upgrades and high implementation cost.
Energy Efficiency	Low-power LED and microcontroller-based system ensuring minimal energy use.	High power consumption with older signal controllers.
Scalability	Easily expandable to multiple intersections and adaptable for smart city integration.	Limited scalability; requires significant modifications for upgrades.
Cost-Effectiveness	Affordable prototype and maintenance cost, suitable for developing regions.	Expensive installation and maintenance, suitable mainly for metro cities.
Reliability	Automated and real-time operation with minimal human error.	Dependent on manual control or centralized systems, prone to delays.

Table 4.5: Comparison between The 4th Signal and Existing POS Systems

4.7.4 Project PATENT/STARTUP/PAPER DOCUMENTATION

Enhancing Retail Efficiency: The The 4th Signal System

Chapter 5

Impact

The *"4th Signal"* project creates a powerful impact by revolutionizing emergency traffic management through automation and intelligent prioritization. It significantly reduces ambulance response time, ensuring faster medical aid and saving lives. The system also enhances road safety and reduces congestion, contributing to smoother traffic flow. Overall, it promotes sustainable urban mobility and strengthens public trust in smart city innovations.

5.1 Economic, Technological, and Social Benefits

Economic Benefits:

The *"4th Signal"* offers a low-cost, energy-efficient alternative to traditional traffic systems, reducing installation and maintenance expenses for municipalities. By minimizing traffic congestion and delays, it indirectly lowers fuel consumption, saving money for both the government and commuters. Its scalable design also opens opportunities for local manufacturing and employment generation in smart infrastructure projects.

Technological Benefits:

The project introduces an innovative integration of **RFID technology, microcontroller-based control, and intelligent signal automation**, representing a step toward smart city evolution. It ensures real-time communication between emergency vehicles and traffic signals, improving system reliability and reducing manual intervention. The modular architecture allows easy upgrades with IoT or AI-based features in the future.

Social Benefits:

Socially, *"The 4th Signal"* enhances public safety by ensuring ambulances reach hospitals faster, potentially saving countless lives. It builds public awareness about the importance of emergency response prioritization and fosters community trust in technology-driven governance. Additionally, by reducing traffic stress and promoting smoother commutes, it contributes to a healthier and more organized urban lifestyle.

5.2 Job Creation, Innovation Culture, and Skill Development Impact

The *"4th Signal"* project has the potential to create a wide range of employment opportunities and foster an innovation-driven ecosystem. During its development and deployment phases, jobs can be generated in areas such as hardware assembly, software programming, traffic system installation, maintenance, and technical support. As the system scales across cities, additional roles in project management, data analysis, and public infrastructure coordination will emerge, contributing to economic growth.

Moreover, the project encourages an **innovation culture** by blending engineering, technology, and public service for social impact. It inspires students, startups, and researchers to explore smart mobility and IoT-based safety systems. The hands-on nature of this project promotes **skill development** in fields like embedded systems, automation, and sensor integration, preparing the next generation of engineers for the rapidly evolving smart city sector. Through this, *"The 4th Signal"* not only enhances traffic safety but also strengthens the nation's technological capability and workforce readiness.

Chapter 6

Conclusion

6.1 Summary of the Project and Its Entrepreneurial Potential

"The 4th Signal" is an intelligent traffic control system designed to prioritize emergency vehicles, particularly ambulances, at intersections. By integrating **RFID technology** with traditional traffic lights, the system automatically detects an approaching ambulance and triggers a **blue light indicator** along with lane-specific green signals, ensuring safe and rapid passage. The system uses low-cost components like **Arduino Uno, RFID RC522 modules, and LED indicators**, offering a scalable, reliable, and hands-free solution for urban traffic management. This project not only reduces ambulance response times but also improves overall road safety and demonstrates the potential of **smart embedded systems** in public infrastructure.

Entrepreneurial Potential:

Market Demand: Traffic congestion and emergency response delays are universal problems in urban areas, creating a high demand for automated traffic management solutions.

Business Opportunities: Potential revenue streams include hardware sales, system installation, maintenance contracts, and consulting for smart city projects.

Innovation & Skill Development: The project encourages startups and tech innovators to explore **IoT-based mobility solutions**, embedded systems, and smart city technologies.

Scalability: The modular and low-cost design allows deployment across multiple cities, opening opportunities for **regional or national-level projects**.

Social Impact: By reducing emergency response times and enhancing public safety, the project combines economic viability with **meaningful social value**, appealing to government bodies, healthcare organizations, and private investors.

6.2 Future Work and Expansion Possibilities

The system's modular design and flexible architecture offer ample opportunities for future enhancements and expansion. Key future developments include:

- **Integration with Smart City Platforms:** Connect the traffic signal system with city-wide IoT networks and central traffic management platforms for coordinated control across multiple intersections.
- **Cloud-Based Monitoring and Analytics:** Enable centralized data storage, real-time analytics, and remote access for traffic authorities to monitor ambulance movements and traffic patterns.
- **Mobile Application Development:** Develop a companion app for emergency services and traffic control authorities to track ambulance locations, receive alerts, and manage traffic priorities in real time.
- **Advanced AI and Predictive Control:** Implement AI algorithms for predictive traffic control, optimizing signal timing based on congestion, time of day, and emergency vehicle routes.
- **Multi-Vehicle Priority Management:** Expand the system to prioritize other emergency vehicles such as fire trucks and police vehicles with custom signal protocols.
- **Integration with Autonomous Vehicles:** Adapt the system to communicate with autonomous vehicles and smart ambulance fleets for fully automated emergency routing.
- **Regional and National Expansion:** Scale the system to multiple cities and highways, including localization for regional traffic rules and road conditions.

Chapter 7

References

7.1 Books:

1. **Mazidi, M. A., McKinlay, R. D., & Causey, D.** (2015). *PIC Microcontroller and Embedded Systems: Using Assembly and C for PIC18*. Pearson.Turban, E., Pollard, C., & Wood, G. (2018). Information Technology for Manage- ment: On-Demand Strategies for Performance, Growth, and Sustainability. Wiley.

2. **Simon, S. R., & Natarajan, B.** (2017). *RFID Handbook: Fundamentals and Applications in Contactless Smart Cards and Identification*. Wiley.Kotler, P., & Keller, K. L. (2016). Marketing Management. Pearson Education.

3. **Wolf, W.** (2012). *Computers as Components: Principles of Embedded Computing System Design*. Morgan Kaufmann.
4. **Kumar, P., & Mallick, P. K.** (2018). *Internet of Things: Insights into the Building Blocks, Component Interactions, and Architecture Layers*. CRC Press.
5. **Ghosh, S. K., & Chakrabarti, A.** (2019). *Intelligent Transport Systems: Technologies and Applications*. Springer.

7.2 Research Papers:

1. An Optimised Traffic Control Scheme with Preference to Emergency Vehicles Leveraging RFID — Kenneth Akpado, Samuel Usoro & Nneka Ezeani (2021).

2. Smart Traffic Management: Enhancing Emergency Response with AI And IoT — G. Susan Shiny, Mohammed Ibrahim Sheriff, Sowmya Narayanan & Yuvarajan (2025).

7.3 Websites:

1. https://www.emtracsystems.com/first-response/emergency-vehicle-preemption-evp/ — EMTRAC Systems – *Emergency Vehicle Preemption (EVP)*

2. https://www.tmr.qld.gov.au/safety/road-safety/emergency-vehicle-priority — Queensland Department of Transport and Main Roads – *Emergency Vehicle Priority (EVP)*

3. https://www.swarco.com/products/software/public-transport/smart-priority — Swarco Sverige AB – *Smart Priority*

4. https://www.kimley-horn.com/news-insights/perspectives/top-vehicles-traffic-signal-priority-emergency-vehicle-preemption/ — Kimley-Horn – *Top 5 Vehicles Benefitting from Traffic Signal Priority and Preemption*

5. https://hcfl.gov/residents/property-owners-and-renters/roads-and-sidewalks/emergency-vehicle-traffic-signal-preemption-system — Hillsborough County Florida Government – *Emergency Vehicle Traffic Signal Preemption System*

7.4 Additional Sources

- "Informed Traffic Signal Preemption for Emergency Vehicles" — study developing a preemption system that uses predicted trajectory data to control traffic signals for emergency vehicles.

- "Traffic Monitoring and Signal Controlling using RFID for Emergency Vehicles" — research paper presenting the concept of using RFID technology to prioritise ambulances at traffic signals.

- "An Emergency Vehicle Traffic Signal Preemption System Considering Queue Spillbacks on Approaches" — a paper presenting a system for emergency vehicles that factors in queue spill-backs at intersections.

Chapter 8

Annexure

The annexure includes the complete circuit diagrams, Arduino code, and detailed connections for the RFID module used in “The 4th Signal” project. It also contains sample data logs showing ambulance detection and the corresponding signal switching sequences during testing. Additionally, photographs of the prototype setup, including LED indicators and traffic signal mockups, are provided to demonstrate the practical implementation and functionality of the system.

8.1 System Flowchart

The following flowchart illustrates the overall process flow of the 4th signal.

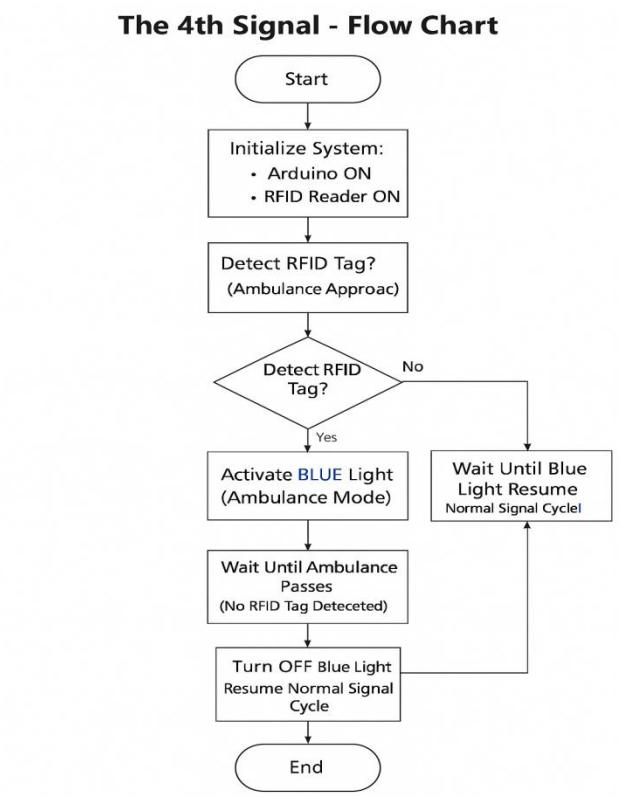

Figure 8.1: System Flow Chart

8.2 Data Flow Diagram (DFD)

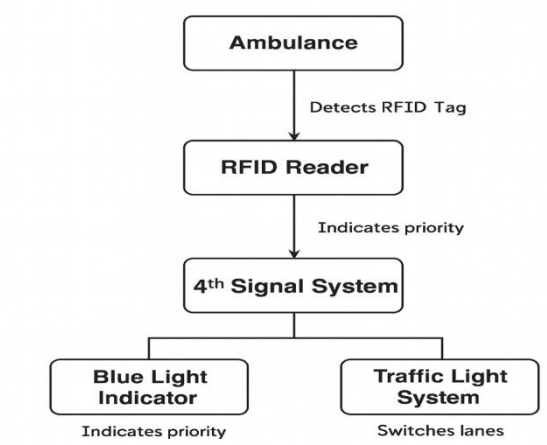

Figure 8.2: Data Flow Diagram

8.3 Survey Results

To evaluate the need and acceptance of an automated emergency-vehicle priority system, a survey was conducted among **30 ambulance drivers**, **20 traffic police personnel**, and **50 daily commuters**.

Key Findings:

- **82% of ambulance drivers** reported frequent delays at traffic signals, especially during peak hours.
- **76% of traffic police personnel** agreed that manual intervention for clearing routes is difficult and often slow.
- **88% of commuters** supported the idea of a dedicated blue signal to indicate ambulance priority.
- **85% of all respondents** believed that an automated RFID-based system would significantly reduce ambulance response time.

8.4 Financial Tables

Component	**Estimated Cost (INR)**	**Description**
Hardware (Sensors, Signal Units, PCB)	25,000	Components for detecting emergency vehicles
Microcontroller & IoT Modules	10,000	Controller board, Wi-Fi/GSM modules for communication
Software Development	35,000	Algorithm design, coding, testing, integration
Installation & Setup	12,000	Mounting sensors and configuring signal system
Maintenance & Cloud Monitoring	8,000	Annual system monitoring & updates
Total Estimated Cost	**90,000**	Complete project implementation cost

Table 8.1: Estimated Project Cost Breakdown

8.5 Source Code

```
#include <SPI.h>
#include <MFRC522.h>

// RFID Module Pins
#define SS_PIN 10
#define RST_PIN 9
MFRC522 rfid(SS_PIN, RST_PIN);

// Define LEDs for 4 directions (Red, Yellow, Green)
#define R1 2
#define Y1 3
#define G1 4

///#define R2 5
//#define Y2 6
//#define G2 7

//#define R3 8
//#define Y3 A0
//#define G3 A1

//#define R4 A2
//#define Y4 A3
//#define G4 A4

// Define Blue Light (Ambulance Alert)
#define BLUE_LIGHT 7

// RFID Tag IDs for 4 directions (replace these with your RFID tag UIDs)
String amb1 = "F2AFB889";  // Direction 1
//String amb2 = "E5F6A7B8";  // Direction 2
//String amb3 = "C9D0E1F2";  // Direction 3
//String amb4 = "1234ABCD";  // Direction 4

void setup() {
  Serial.begin(9600);
  SPI.begin();
  rfid.PCD_Init();

  // Initialize all LED pins
  int pins[] = {R1,Y1,G1,BLUE_LIGHT};
  for (int i = 0; i < 13; i++) pinMode(pins[i], OUTPUT);

  // Initially turn all signals red
  allRed();

  Serial.println("?? Ambulance Clearance with Blue Light Alert System Ready");
}

void loop() {
  // Normal traffic operation
  normalTrafficCycle();

  // Check for RFID (ambulance)
  if (rfid.PICC_IsNewCardPresent() && rfid.PICC_ReadCardSerial()) {
    String tagID = "";
    for (byte i = 0; i < rfid.uid.size; i++) {
      tagID += String(rfid.uid.uidByte[i], HEX);
    }
    tagID.toUpperCase();

    Serial.print("Detected RFID Tag: ");
    Serial.println(tagID);

    // Compare tag IDs
    if (tagID == amb1) activateAmbulanceClearance(1);
    //else if (tagID == amb2) activateAmbulanceClearance(2);
    //else if (tagID == amb3) activateAmbulanceClearance(3);
    //else if (tagID == amb4) activateAmbulanceClearance(4);
    else Serial.println("Unknown Tag Detected!");

    rfid.PICC_HaltA();
    rfid.PCD_StopCrypto1();
  }
}
```

```
void normalTrafficCycle() {
  // Each direction gets green for 4 seconds
  signalState(1); delay(4000);
  //signalState(2); delay(4000);
  //signalState(3); delay(4000);
  //signalState(4); delay(4000);
}

void signalState(int dir) {
  allRed();
  switch (dir) {
    case 1: digitalWrite(G1, LOW); break;
   // case 2: digitalWrite(G2, HIGH); break;
    //case 3: digitalWrite(G3, HIGH); break;
    //case 4: digitalWrite(G4, HIGH); break;
  }
}

void allRed() {
  int reds[] = {R1};
  int greens[] = {G1};
  for (int i = 0; i < 4; i++) {
    digitalWrite(reds[i], HIGH);
    digitalWrite(greens[i], HIGH);
  }
  digitalWrite(BLUE_LIGHT, LOW); // blue light off
   digitalWrite(R1, HIGH);

}

// Function to handle ambulance clearance
void activateAmbulanceClearance(int dir) {
  Serial.print("?? Ambulance Detected in Direction ");
  Serial.println(dir);

  allRed();
  digitalWrite(R1, LOW);
  digitalWrite(BLUE_LIGHT, HIGH);  // Turn ON blue light

  // Make ambulance direction green
  switch (dir) {
    case 1: digitalWrite(G1, HIGH); break;
    //case 2: digitalWrite(G2, HIGH); break;
    //case 3: digitalWrite(G3, HIGH); break;
    //case 4: digitalWrite(G4, HIGH); break;
  }

  // Keep blue light and green signal ON while ambulance passes
  delay(6000);  // Adjust this delay for real timing

  // Turn off blue light and return to normal
  digitalWrite(BLUE_LIGHT, HIGH);
  allRed();
  Serial.println("? Ambulance Passed — Resuming Normal Traffic");
}
```

Figure 8.3: Arduino code